City Resilience Program | FUTURE CITY SCAN WEB APP PROTOTYPE

Data control

SCROLL TO CONTROL TARGET

0300 m 1000 m 2000 m 4000 m

COLORMAP

IceFire

HEXBIN RESOLUTION

500 m

Credits

Developed by CRP: CRP.GFDRR

Section 1: Demographic Distribution | Section 2: GDP Distribution

# SECTION 1: DEMOGRAPHIC DISTRIBUTION

The City Resilience Program (CRP) works to build resilient cities with the capacity to plan for and mitigate adverse impacts of disasters and climate change, thus enabling them to save lives, reduce losses, and unlock economic and social potential. The program is a partnership between the World Bank and GFDRR. A City Scan is a rapid geospatial assessment of the critical resilience challenges that cities face using the best publicly available global datasets and open source tools. The output is a package of maps, data visualizations and insights that integrate features of both the built and natural environments.

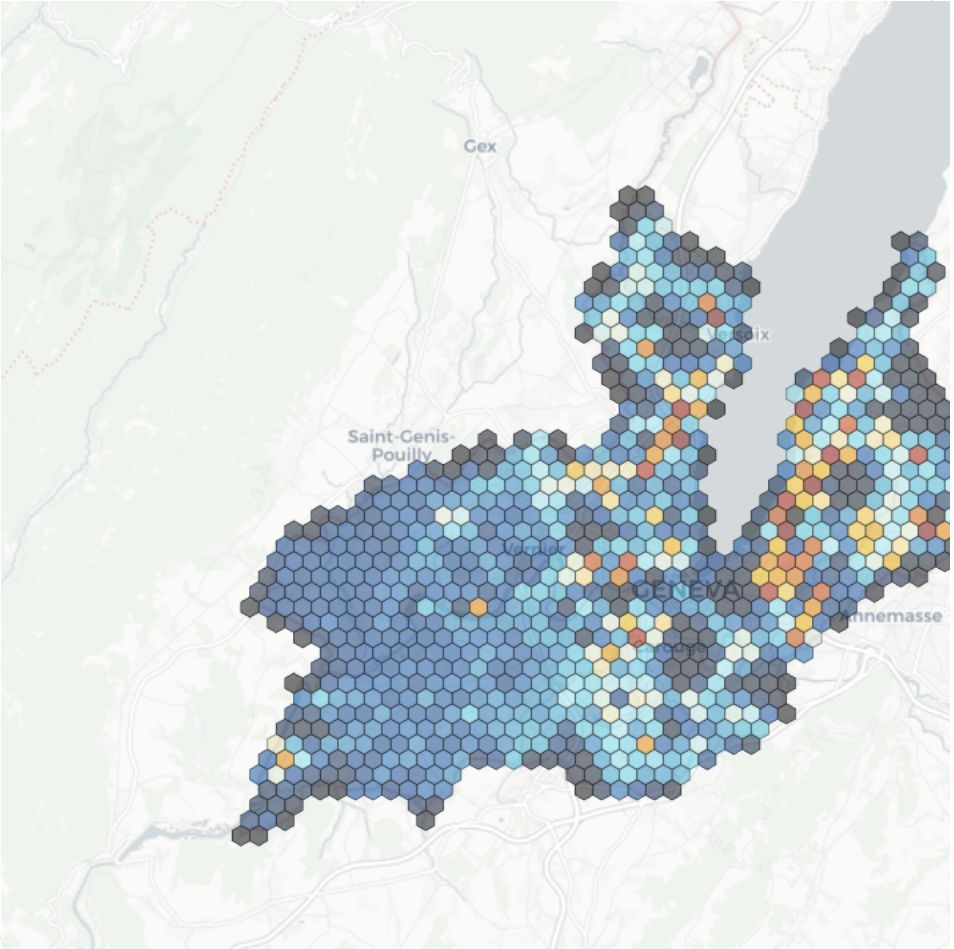


Add controls for heatmap 2

COLORMAP 2

Viridis

This map estimates population numbers per 10,000 meter sq. grid cell. It provides a more consistent representation of population distributions across different landscapes than administrative unit counts.

Add controls for Map 3

COLORMAP 3

Magma

The map illustrates monthly temporal changes from 2014 to 2022 in the emission of nighttime lights, indicating changes in economic activity. Positive values represent an increase in the intensity of nighttime light emission and, by proxy, economic activity.

Populate it with pertinent details

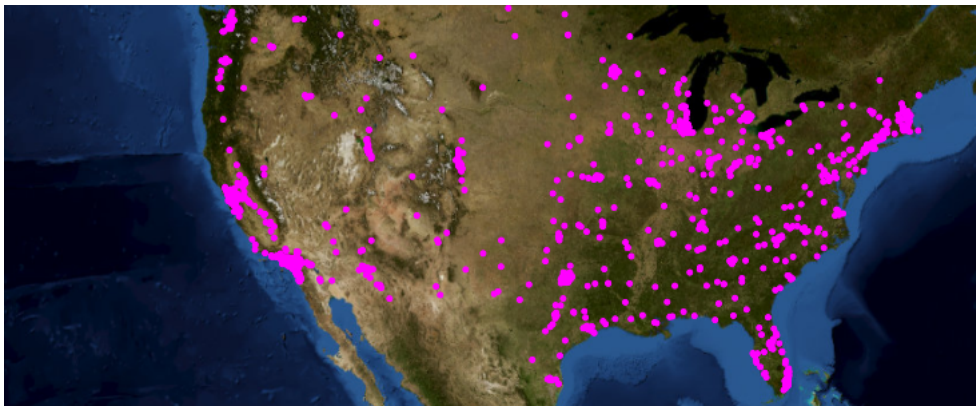

Add description for the scatterplot

GDP growth measures how fast the local economy is growing. Positive GDP growth is typically attributed to government spending, personal consumption, business investment, construction, and net trade.
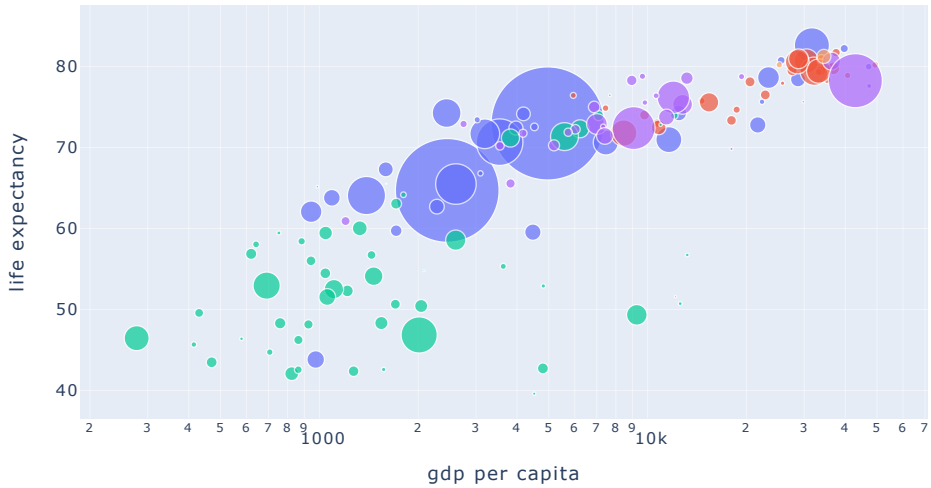
Placeholder for description